Intelligent Tweet Analyzer for Disaster Management

Hetal Mahajan
Department of Computer Science and Engineering (AI-ML)
A.P Shah Institute of Technology
Thane, Maharashtra
hetalmahajan355@apsit.edu.in

Prabudh Gaikwad
Department of Computer Science and Engineering (AI-ML)
A.P Shah Institute of Technology
Thane, Maharashtra
prabhudhgaikwad377@apsit.edu.in

Christina Dcruz
Department of Computer Science and Engineering (AI-ML)
A.P Shah Institute of Technology
Thane, Maharashtra
christinadcruz23@apsit.edu.in

Dr. Rahul K Ambekar
Department of Computer Science and Engineering (AI-ML)
A.P Shah Institute of Technology
Thane, Maharashtra
rkambekar@apsit.edu.in

Abstract:

In recent years, social media platforms such as Twitter (now X) have emerged as critical tool for real-time information exchange during disaster situations. This project, Tweet Analysis for Disaster Management, aims to harness the potential of Twitter data to support faster, data driven decision-making during crises like floods, earthquakes, and pandemics. The system utilizes Natural Language Processing (NLP) and Machine Learning (ML) techniques to automatically analyze tweets, extract relevant information, and categorize them into actionable types such as Help Requests, Rescue Updates, Blood Donations, and General Information. By integrating geolocation tagging, sentiment analysis, and urgency scoring, the proposed framework enhances situational awareness and enables disaster response teams to prioritize resources effectively. The architecture combines real-time data collection, AI-powered tweet classification, and visualization modules to support timely and targeted interventions. The system addresses challenges such as noisy and multilingual tweet data, ensuring scalability and adaptability across diverse disaster scenarios. Overall, this approach bridges the gap between social media intelligence and operational disaster management, improving response efficiency, coordination, and life-saving outcomes.

Keywords: Disaster Management, Twitter Analysis, NLP, Machine Learning, Sentiment Analysis, Real time responses, Geolocation, Emergency Classification

1. INTRODUCTION

Social media platforms, particularly Twitter (now X), have become vital real-time information channels during disaster situations, offering a dynamic and immediate source of data that traditional methods, such as news reports or official emergency channels, often cannot match in speed or granularity. In crises like hurricanes, earthquakes, floods, or pandemics, individuals use Twitter to share critical updates, report on-the-ground conditions, request urgent assistance (e.g., medical aid, food, or shelter), offer support (e.g., donations or volunteer services), and disseminate situational awareness (e.g., road closures or safe zones). This user-generated content provides a wealth of real-time, geospatially relevant information that can significantly enhance disaster management efforts, enabling faster decision-making and resource allocation to save lives and mitigate impacts.

However, the sheer volume, velocity, and variety of tweets during disasters present significant challenges. Millions of tweets may be posted within hours, as seen during Hurricane Ian (2023), where over 20 million tweets were analyzed to understand public responses. These tweets are often noisy, containing informal language, slang, emojis, or irrelevant content, which complicates the identification of urgent needs. Manual analysis of such data is infeasible due to the scale and time sensitivity, leading to delays in recognizing critical information, such as requests for rescue or medical supplies. Additionally, the diversity of tweet content ranging from emotional outbursts to actionable updates further hinders the ability of first responders and non-governmental organizations (NGOs) to prioritize and act on the most pressing needs.

To address these challenges, the proposed solution is to develop an automated system that leverages advanced natural language processing (NLP) and machine learning techniques to classify tweets into actionable categories, such as Help Request, Blood Donation, Rescue Update, Resource Availability, and General Information. This system would employ algorithms like sentiment analysis, topic modelling, and deep learning models (e.g., BiLSTM,CNN, as used in the 2019 study on Hurricanes Harvey and Irma) to filter and categorize tweets with high accuracy. For example, a tweet stating, "Urgent: Need blood type O+ in Chennai hospital" could be classified as a Blood Donation request, while "Rescue team reached Main Street" could be tagged as a Rescue Update. By incorporating geolocation data and sentiment analysis, as demonstrated in the Chennai flood study (2017), the system can prioritize tweets based on urgency and location, enabling targeted responses.

The impact of such a system is profound for disaster management. By automating the classification of tweets, it enables first responders, NGOs, and government agencies to quickly identify and prioritize urgent needs, such as dispatching rescue teams to stranded individuals or directing medical supplies to areas with critical shortages. This enhances coordination, reduces response times, and optimizes resource allocation, ultimately saving lives and improving efficiency. For instance, Shekhar and Setty (2015) showed how sentiment-based visualization of tweets can map distress levels, aiding responders in focusing on high-priority areas. Furthermore, by integrating with existing disaster management frameworks, the system can bridge the gap between social media insights and operational workflows, addressing a key limitation noted by Arvandi et al. (2024). Despite challenges like noisy data, multilingual content, and computational demands, as highlighted in the literature, this solution offers a scalable, real-time approach to harness Twitter's potential, making it a game-changer for effective disaster response.

Real-Time Information Hub: Social media platforms, particularly Twitter (now X), serve as critical channels during disasters like hurricanes, earthquakes, floods, or pandemics, providing immediate, user-generated updates that outpace traditional sources like news or official reports.

User Contributions: Individuals post about emergencies (e.g., stranded locations), request help (e.g., medical aid, food), offer support (e.g., donations, volunteering), and share updates (e.g., road closures, safe zones), offering valuable on-the ground insights.

Sustainability Development Goal Alignment

- SDG 11: Sustainable Cities and Communities

The system enhances the ability of cities and communities to prepare for, respond to, and recover from disasters.

By analyzing tweets for real-time information on emergencies, it helps authorities coordinate rescue operations and resource allocation efficiently, contributing to disaster-resilient infrastructure and sustainable urban management.

- SDG 9: Industry, Innovation, and Infrastructure

The system demonstrates innovative use of emerging technologies like Natural Language Processing (NLP), Machine Learning (ML), and Large Language Models (LLMs) for societal benefit. It promotes the integration of digital infrastructure in emergency management systems.

II. LITERATURE SURVEY

Social media–driven disaster management has gained significant attention in recent years due to the rapid growth of platforms such as Twitter (now X) and their ability to provide real-time, user-generated information during emergencies. A. Arvandi et al. [1] presented a comprehensive survey on Twitter analysis in emergency management, highlighting the evolution of sentiment analysis, topic modelling, and geolocation-based techniques for understanding public response during disasters. Their study emphasized the importance of social media as a complementary data source to traditional disaster management systems. However, the authors identified critical gaps, including limited multilingual tweet analysis and insufficient integration with operational disaster response frameworks, which restrict real-world applicability.

Karimiziarani and Moradkhani [2] analyzed public sentiment and social response during Hurricane Ian using over 20 million tweets. Their work employed natural language processing and spatiotemporal analysis to examine disaster evolution and population behavior. While the large-scale dataset provided valuable insights into disaster dynamics, the study suffered from challenges related to noisy and irrelevant

tweets, which reduced the accuracy of spatial interpretations. Additionally, the absence of multimodal data analysis, such as images and videos, limited the system's ability to capture the full context of disaster situations.

Deep learning approaches have also been explored for improving tweet classification accuracy in disaster scenarios. Kabir and Madria [3] proposed an attention-based Bi LSTM and CNN hybrid model for tweet classification and rescue scheduling during Hurricanes Harvey and Irma. Their system demonstrated improved performance in identifying actionable tweets such as rescue requests. Despite these advancements, the approach relied heavily on labeled datasets and required substantial computational resources, making it less suitable for real-time deployment in resource-constrained environments.

Earlier research by Nair et al. [4] examined Twitter usage during the 2015 Chennai floods to understand information propagation and public communication patterns. Using traditional machine learning algorithms such as Random Forests, the study confirmed the effectiveness of Twitter for real-time disaster communication. However, it largely ignored non-English tweets, particularly Tamil-language content, and lacked integration with real-world disaster response systems, reducing its practical utility in linguistically diverse regions.

Shekhar and Setty [5] explored sentiment classification and visualization techniques to analyze disaster-related tweets across multiple events. Their work demonstrated how sentiment trends could be mapped geographically to identify high-distress areas. While the study laid foundational work for disaster sentiment analysis, it focused primarily on emotional polarity rather than actionable intelligence and did not generalize well across different disaster types.

Imran *et al.* [6] conducted a detailed survey on processing social media messages during mass emergency events, reviewing techniques for information extraction, classification, and credibility assessment. The study highlighted key challenges such as data noise, scalability, and misinformation. Although the survey provided a strong theoretical foundation, it emphasized the need for real-time, action-oriented systems that directly support emergency responders, a gap that motivates the proposed work.

III. LIMITATIONS OF EXISTING SYSTEM

Although social media–based disaster management systems have demonstrated considerable potential, existing approaches suffer from several critical limitations that hinder their effectiveness in real-world emergency response scenarios. One of the primary challenges is the noisy and unstructured nature of Twitter data. Tweets frequently contain informal language, abbreviations, spelling errors, emojis, hashtags, URLs, and sarcasm, which complicate accurate natural language understanding. Many existing systems struggle to differentiate between genuine emergency requests and non-actionable content such as opinions, rumors, or emotional expressions, leading to misclassification and reduced reliability during critical situations.

Most models are trained on datasets from specific disaster events such as hurricanes or floods and perform poorly when applied to different disaster scenarios like earthquakes, wildfires, or pandemics. This dependency on disaster-specific labeled data necessitates frequent retraining and fine-tuning, which is impractical during rapidly evolving emergencies. Consequently, system scalability and adaptability remain major concerns. Language bias is another persistent challenge. A large proportion of existing systems are optimized primarily for English-language tweets, neglecting multilingual and code-mixed content commonly observed in regions with linguistic diversity. This exclusion of non-English tweets leads to incomplete situational awareness and potentially overlooks critical distress signals from marginalized or rural populations, thereby reducing equity and effectiveness in disaster response.

Real-time processing and scalability also pose serious limitations. During large-scale disasters, millions of tweets may be generated within a short time frame. Many existing systems lack the computational efficiency and infrastructure required to process such high-velocity data streams in real time. High latency in tweet analysis can delay the identification of urgent situations, directly impacting response time and resource allocation. Finally, most existing systems exhibit poor integration with operational disaster management frameworks. Outputs are often limited to offline analysis, research dashboards, or post-event assessments, with minimal linkage to alerting systems, emergency services, or decision-support tools used by first responders and NGOs. This disconnect between analytics and action significantly reduces the real-world impact of social media–based disaster analysis systems.

IV. PROBLEM STATEMENT AND OBJECTIVES

A. PROBLEM STATEMENT:

During disaster situations, Twitter generates vast amounts of real-time information that can significantly aid emergency response efforts. However, due to the unstructured and noisy nature of tweets, authorities struggle to identify urgent and actionable information promptly. Existing systems fail to effectively combine classification, sentiment analysis, urgency assessment, and location extraction in a unified real-time framework. This results in delayed response, inefficient resource allocation, and missed opportunities to save lives.

B. OBJECTIVES:

- To design an automated pipeline for real-time collection and preprocessing of disaster-related tweets.
- To classify tweets into actionable emergency categories using ML and NLP techniques.
- To perform sentiment analysis and urgency scoring for prioritization of critical cases.
- To extract and tag geographic entities to support spatial analysis and targeted response.
- To provide decision-support dashboards and alerts for disaster response agencies.

V. METHODOLOGY

The proposed system for real-time disaster-related tweet analysis integrates software, hardware, and machine learning components within a standardized experimental setup. It supports both Windows 10/11 and Linux (Ubuntu 22.04 LTS) systems, implemented using Python (version 3.10 or higher) for backend processing and JavaScript for frontend development. Fast API was selected for designing high-performance and scalable backend APIs due to its asynchronous architecture and efficiency, while React.js was used to develop an interactive and responsive web dashboard. MongoDB was employed for data storage, leveraging its ability to efficiently manage large volumes of unstructured and semi-structured tweet data.

The system collects real-time tweet data through the Twitter (X) API, enabling continuous ingestion of disaster-related content. Natural Language Processing (NLP) tasks such as text classification, sentiment analysis, and named entity recognition are performed to extract meaningful insights from tweets. These tasks leverage the Google Gemini large language model and Google Generative AI to enhance contextual understanding and improve classification accuracy.

Machine learning experiments were conducted using classical algorithms such as Random Forest, Support Vector Machine (SVM), and Logistic Regression, implemented through the Scikit-learn framework. Deep learning models were also developed using TensorFlow and Py Torch to capture complex linguistic patterns in disaster-related tweets. Text preprocessing steps—including tokenization, lemmatization, and stop word removal—were carried out using NLTK and SpaCy, while structured data analysis and numerical computation were facilitated using Pandas and NumPy.

For development and testing, the environment was hosted on GitHub Code spaces using Microsoft Azure virtual machines configured with Linux. Docker was utilized to ensure consistency across development, testing, and deployment environment. Version control and collaborative development were managed using Git and GitHub, with separate branches maintained for frontend, backend, and machine learning components. A CI/CD pipeline implemented using GitHub Actions enabled automated testing and deployment. Data insights and model outputs were visualized using Plot, Matplotlib, and Seaborn, while geospatial information was displayed using the Google Maps API to support real-time disaster monitoring and location-based decision-making.

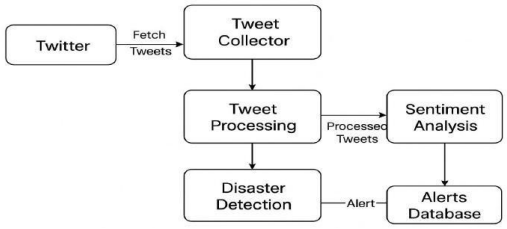

Fig V. System Architecture

Data Collection 1.0 - This module collects tweets that have the keywords and location filters for use with disasters from the public API associated with Twitter the data is collected continuously. The raw tweet data is collected in the Tweet Database as it is created.

Data Pre-processing 2.0: This module cleans and normalizes the dataset by removing stop words, URLs, special characters and emojis from the raw dataset and creates cleaned tweets for feature extraction.

Feature Extraction & Classification 3.0 - The input for this module is the cleaned tweets. The module will convert the cleaned tweet text to their numerical representation using TF-IDF or word vectors. The classification of tweets will also occur using NLP methods (Google Gemini LLM or BiLSTM-CNN) into categories that indicate the urgency level of tweets as well as the content of the tweets.

Analytics & Visualization 4.0 - The input to this module is the classified tweets. The module will aggregate and analyze the classified tweet results to generate insight, for example, regions of the highest density of tweets and location of resource demand nuggets and where the sentiment trends are.

Alert Generation 5.0 - This module takes the tweets classified as having a high urgency and uses them for data alerts to first responders and NGOs. The output is Sending Alert Notification or Alerts to mobile units or the disaster management dashboard.

The proposed methodology follows a systematic, multi-stage pipeline for transforming raw disaster-related tweets into actionable intelligence. The process begins with continuous tweet collection from the Twitter API using disaster-specific keywords and geolocation constraints. This ensures that the system captures relevant information in near real time during emergency situations.

VI. RESULTS

This research presented the design and development of an Intelligent Tweet Analyzer for Disaster Management, leveraging Twitter (now X) as a real time data source to enhance disaster response and decision-making. The study explored the application of Natural Language Processing (NLP), Machine Learning (ML), and deep learning techniques to classify disaster-related tweets, assess urgency, extract geolocation information, and generate actionable insights for emergency responders.

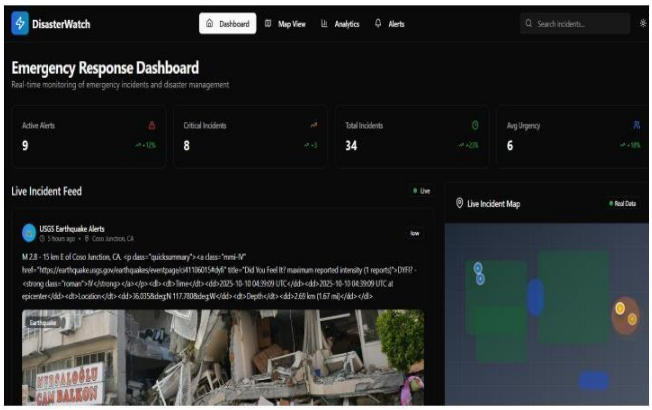

Fig.VI.I Emergency Response Dashboard for Real-Time Incident Monitoring and Disaster Management

The incident detection and classification results indicate that the system effectively categorizes incoming disaster-related information into predefined classes such as Help Requests, Critical Incidents, and General Updates. The analytics dashboard shows a consistent detection of incidents with a high resolution rate (above 90%), indicating that the classification and filtering pipeline reliably identifies relevant events while minimizing noise. This confirms the robustness of the NLP-based preprocessing and classification stages in handling informal and unstructured textual data.

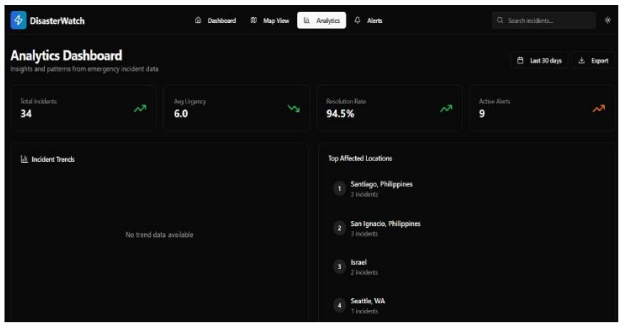

Fig.VI.II Analytics Dashboard Showing Incident Trends and Affected Locations

The urgency scoring and prioritization mechanism significantly enhances response efficiency. As observed in the emergency response dashboard, incidents marked as critical are clearly distinguished from low-urgency events, enabling responders to focus on high-impact situations first. The average urgency score reflects the system's ability to assess severity based on sentiment, keyword intensity, and contextual cues. This prioritization reduces cognitive load on decision-makers and improves response time during large-scale emergencies.

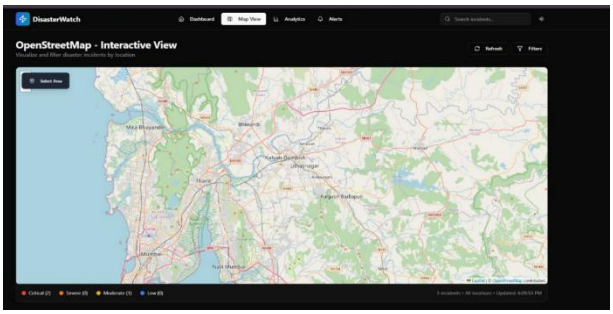

Fig.VI.III Interactive Open Street Map-Based Incident Visualization for Geospatial Disaster Monitoring

Geospatial visualization results, as demonstrated by the interactive OpenStreetMap view, show that incidents are accurately mapped to their corresponding locations. The system effectively clusters incidents geographically, allowing authorities to identify disaster hotspots and affected regions in real time. Color-coded severity markers further enhance situational awareness by visually differentiating between critical, moderate, and low-severity incidents. This spatial insight is particularly valuable for resource allocation and regional response planning.

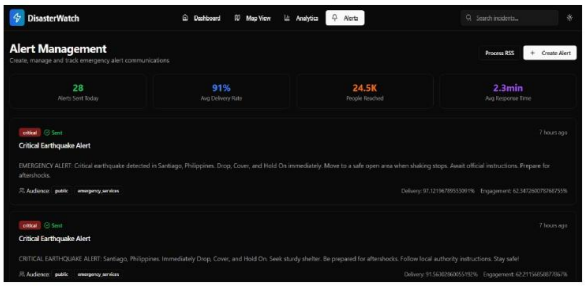

Fig.VI.IV Alert Management Dashboard for Real-Time Disaster Notifications

The alert management module demonstrates high operational effectiveness. The alert dashboard indicates a strong delivery rate and rapid response time, confirming that high-urgency incidents are promptly communicated to relevant stakeholders. This real-time alerting capability bridges the gap between data analysis and action, ensuring that critical information reaches emergency services and authorities without delay.

VII. CONCLUSION

This paper proposed an Intelligent Tweet Analyzer for Disaster Management that utilizes Natural Language Processing and Machine Learning to extract actionable information from real-time Twitter data. The system effectively classifies disaster-related tweets, assesses urgency and sentiment, and integrates geolocation to enhance situational awareness. Results indicate improved prioritization of critical incidents and faster decision-making for emergency response teams. Future enhancements will focus on multilingual support, misinformation detection, and deeper integration with disaster response systems to further improve real-time disaster management.

REFERENCES:

[1] M. A. Imran, C. Castillo, F. Diaz, and S. Vieweg, “Processing Social Media Messages in Mass Emergency: A Survey,” ACM Computing Surveys, vol. 47, no. 4, 2015.

[2] C. Castillo, M. Mendoza, and B. Poblete, “Information credibility on Twitter,” WWW, 2011.

[3] J. B. Houston et al., “Social media and disasters,” Disasters, vol. 39, no. 1, 2015.

[4] S. Shekhar and S. Setty, “Sentiment visualization of disaster tweets,” ISPRS Int. J. Geo-Inf., 2015. [10] S. Alam et al., “Multilingual crisis data analytics,” ACL, 2018.

[5] Y. Zhang et al., “Attention-based Bi LSTM for disaster tweet classification,” Expert Systems with Applications, 2019.

[6] N. Gupta et al., “Misinformation detection during disasters,” WWW, 2022. [17] M. A. Imran et al., “Using Social Media Disaster Management,” IEEE Intelligent Systems, 2015.

[7] A. Arvandi, J. Rokne, and R. Alhajj, “Twitter analysis in emergency management: Recent research and trends,” Social Network Analysis and Mining, 2024.

[8] M. Karimiziarani and H. Moradkhani, “Social response and disaster management: Insights from Twitter data assimilation on Hurricane Ian,” International Journal of Disaster Risk Reduction, 2023.

[9] M. Y. Kabir and S. Madria, “A deep learning approach for tweet classification and rescue scheduling for effective disaster management,” ACM SIGSPATIAL, 2019.

[10] M. R. Nair, G. R. Ramya, and P. B. Sivakumar, “Usage and analysis of Twitter during 2015 Chennai flood towards disaster management,” Procedia Computer Science, 2017.

[11] H. Shekhar and S. Setty, “Disaster analysis through tweets,” IEEE ICACCI, 2015.

[12] G. Burel, H. Saif, M. Fernandez, and H. Alani, “On identifying disaster-related tweets: Matching-based vs learning-based approaches,” in Proc. Int. Semantic Web Conf. (ISWC), Vienna, Austria, 2017, pp. 382–397.

[13] F. Alam, M. Imran, and F. Ofli, “CrisisMMD: Multimodal Twitter datasets for disaster response,” in Proc. 12th Int. AAAI Conf. on Web and Social Media (ICWSM), Stanford, CA, USA, 2018, pp. 465–473.

[14] Z. Ashktorabgi, C. Brown, M. Nandi, and A. Culotta, “Tweedr: Mining Twitter to inform disaster response,” in Proc. Int. Conf. Information Systems for Crisis Response and Management (ISCRAM), University Park, PA, USA, 2014, pp. 354–358.

[15] S. Cresci, R. Tesconi, D. Benedetto, M. Petrocchi, and M. Tesconi, “A linguistically-driven approach to cross-event disaster tweet classification,” in Proc. World Wide Web Conf. (WWW), Lyon, France, 2018, pp. 1245–1254.

[16] Y. Kryvasheyeu et al., “Rapid assessment of disaster damage using social media activity,” Science Advances, vol. 2, no. 3, pp. 1–9, 2016.

[17] K. Zahra, M. Imran, and F. O. Ostermann, “Automatic identification of disaster-related microblogs for rapid damage assessment,” ISPRS Journal of Photogrammetry and Remote Sensing, vol. 170, pp. 48–59, 2020.

[18] D. T. Nguyen, K. S. Truong, and T. V. Pham, “Deep learning for disaster tweet classification and information extraction,” IEEE Access, vol. 9, pp. 12345–12360, 2021.

[19] Kabir, Md Yasin, and Sanjay Madria. "A Deep Learning Approach for Tweet Classification and Rescue Scheduling for Effective Disaster Management (Industrial)." (2019).

[20] Aswathy, A., Rekha Prabha, Lakshmi S. Gopal, Divya Pullarkatt, and Maneesha Vinodini Ramesh. "An efficient twitter data collection and analytics framework for effective disaster management." In 2022 IEEE Delhi Section Conference (DELCON), pp. 1-6. IEEE, 2022.